RegioClim – Integrating Climate Modeling and Socio-Economic Analysis for Risk Assessment

By
Muhammad Muneeb Tariq

Supervised By
Dr. Akmal Khattak

Department of Computer Science
Quaid-i-Azam University, Islamabad

Session (2020-2024)

DEPARTMENT OF COMPUTER SCIENCE,
QUAID-I-AZAM UNIVERSITY, ISLAMABAD.

Dated: _____

FINAL APPROVAL

This is to certify that we have read the final report submitted by Muhammad Muneeb Tariq and it is our judgment that this report is of sufficient standard to warrant its acceptance by Quaid-I-Azam University, Islamabad for the degree of the Bachelors of Science in Computer Science.

1. **EXTERNAL EXAMINER** _____

2. **SUPERVISOR** _____

Dr. Akmal Khattak
Department of Computer Science
Quaid-I-Azam University, Islamabad.

Acknowledgment

In the name of ALLAH, Most Beneficent, Most Merciful.

First of all, I thank Allah at the completion of my project, as I completed this task only by His favour and grace. At this moment, I must thank some individuals because without their cooperation and supervision, I would not have been able to complete this work.

Secondly, I extend my deepest gratitude to my respected teacher and supervisor, Dr. Akmal Khatak, whose door of kindness always remains open for me. His advice and instructions will guide me throughout my life. The completion of my task would not have been possible without his help, encouragement, dynamic supervision, and constructive criticism. I am highly indebted and express my sincere gratitude to him for his invaluable collaboration.

Special thanks to Dr. Onaiza Maqbool, Dr. Rabeeh Ayaz Abbasi, Miss Ifrah Farrukh Khan Dr. Mudassir Azam Sindhu, Dr. Shuaib Karim, Dr. Khalid Saleem,Dr. Muhammad Naqi, Dr. Umer Rasheed, and Dr. Muhammad Imran for their kind support and cooperation.

It is also essential for me to thank my parents, whose prayers are the treasure of my life. I have no words to express my gratitude to them. Their affection, guidance, and continuous encouragement have done their best to shape my character.

Muhammad Muneeb Tariq
20202-2024

Contents

1 Software Project Management Plan **1**
1.1 Introduction . . . 1
1.2 Problem Definition . . . 1
1.3 Dataset . . . 2
1.4 Proposed System . . . 2
1.5 Scope . . . 3
1.6 Objective . . . 4
1.7 Motivation . . . 4
1.8 Application . . . 5
1.9 Existing Systems . . . 6
1.10 Project Organization . . . 6

2 Software Requirements Specifications **7**
2.1 Introduction . . . 7
2.2 Product Overview . . . 7
2.3 Specific Requirements . . . 8
2.4 Software Product Features . . . 9
2.5 Software System Attributes . . . 9
2.6 List of Use Cases . . . 9
2.7 Use Case Diagram . . . 10
2.7.1 Use Case Descriptions . . . 11
2.7.2 System Sequence Diagram . . . 16

3 Software Design Description **21**
3.1 Introduction . . . 21
3.2 System Architecture Design . . . 21
3.3 Domain Model . . . 23
3.4 Class Diagram . . . 25
3.5 Detailed Description of Components . . . 26
3.6 Activity Diagrams . . . 26

4 Software Implementation **29**
4.1 System Definition . . . 29
4.2 Development Tools . . . 29
4.3 Implementation Details . . . 30
4.4 User Interface . . . 31

4.5 Screen Images . . . 31
4.6 Summary . . . 35

5 Software Test Documentation **36**
5.1 Introduction . . . 36
5.1.1 Test Approach . . . 36
5.2 Test Plan . . . 36
5.2.1 Testing Tools and Environment . . . 36
5.3 Test Cases . . . 37
5.3.1 Climate Projection Module . . . 37
5.3.2 Socio-Economic Visualization . . . 38
5.3.3 Risk Calculation . . . 39
5.3.4 Prediction Graphs . . . 40

6 Conclusion and Future Work **41**
6.1 Conclusion . . . 41
6.2 Future Work . . . 41

References **41**

List of Figures

1.1 Proposed System 3

2.1 Use Case Diagram 10
2.2 System Sequence Diagram for Use Case 1: Evaluate Climate Model Projections . . . 16
2.3 System Sequence Diagram for Use Case 2: Explore Past Climate Trends 17
2.4 System Sequence Diagram for Use Case 3: Predict Future Scenarios 18
2.5 System Sequence Diagram for Use Case 4: Visualize Historical Trends 19
2.6 System Sequence Diagram for Use Case 5: Assess Climate-Related Risks 20

3.1 Architecture Diagram 23
3.2 Domain Model 24
3.3 Class Diagram 25
3.4 Activity Diagram (Evaluate Climate Model Projections) 26
3.5 Activity Diagram (Explore Past Climate Trends) 27
3.6 Activity Diagram (Predict Future Scenarios) 27
3.7 Activity Diagram (Visualize Historical Trends) 28
3.8 Activity Diagram (Identify Vulnerable Areas) 28

4.1 Layout page 31
4.2 Socio Economic Indicator Visualization 32
4.3 Risk Calculation 33
4.4 Economic Indicators Prediction 34
4.5 Climate Indicators Prediction 35

List of Tables

2.1 Acronyms and Definitions 8
2.2 UC1: Evaluate Climate Model Projections 11
2.3 UC2: Explore Past Climate Trends 12
2.4 UC3: Predict Future Scenarios 13
2.5 UC4: Visualize Historical Trends 14
2.6 UC5: Assess Climate-Related Risks 15

5.1 Test Case TC001: Climate Projection Module 37
5.2 Test Case TC002: Socio-Economic Visualization 38
5.3 Test Case TC003: Risk Calculation 39
5.4 Test Case TC004: Prediction Graphs 40

Chapter 1

Software Project Management Plan

1.1 Introduction

The introduction chapter lays the groundwork for the Final Year Project (FYP), providing an in-depth understanding of "RegioClim," an innovative web-based tool designed to facilitate comprehensive climate and socio-economic analyses.

1.2 Problem Definition

The problem definition chapter articulates the challenges addressed by RegioClm, highlighting the intricate relationship between climate dynamics and societal factors, and the need for a tool that consolidates and analyzes climate and socio-economic data.

RegioClim is conceived against the backdrop of multifaceted challenges posed by climate change. The dynamic nature of climate dynamics intertwines with societal factors, creating a complex landscape fraught with uncertainties and vulnerabilities. Traditional approaches often fall short in capturing this complexity, leaving decision-makers without the necessary tools to navigate the evolving climate landscape effectively.

Climate projections serve as a cornerstone of RegioClim, recognizing the critical need for accurate and accessible climate data. However, beyond mere data provision, RegioClim aspires to bridge the gap between climate science and societal implications. By integrating socio-economic indicators, it aims to provide a holistic understanding of the impacts of climate change on communities, economies, and ecosystems.

The lack of comprehensive tools for consolidating and analyzing climate and socio-economic data exacerbates the challenges posed by climate change. Decision-makers are left grappling with fragmented information, hindering their ability to formulate effective strategies for adaptation and mitigation. RegioClim endeavors to fill this gap, offering a centralized platform that empowers stakeholders to make informed decisions in the face of uncertainty.

1.3 Dataset

The dataset utilized in RegioClim consists of both climate and socio-economic indicators, providing a comprehensive foundation for accurate projections and risk analysis.

Climate Indicators

Climate indicators and their projections are derived from climate models, specifically leveraging physics-informed neural networks. These models are instrumental in capturing the dynamic nature of climate systems, allowing for precise projections. The integration of these advanced models ensures that the projections account for both global and regional climate variations.

Socio-Economic Indicators

For the socio-economic indicators, data from the 2017 national census is used in conjunction with historical trade balance data from 1980 to 2023. This dataset forms the basis for predicting key socio-economic indicators, including trade balance, over the next five years. The long-term historical data aids in the development of robust prediction models that incorporate both past trends and future scenarios.

Risk Calculation

The risk ratio is calculated based on both climate and socio-economic indicators. The risk ratio formula is defined as:

$$\text{Risk Ratio} = \frac{\text{Future Risk}}{\text{Reference Risk}} \tag{1.1}$$

The future risk is computed using a weighted sum of climate indicators, socio-economic indicators, and vulnerability, as expressed in the following equation:

$$\text{Risk} = (\text{Climate Indicator} \times w_1) + (\text{Socio-Economic Indicator} \times w_2) + (\text{Vulnerability} \times w_3) \tag{1.2}$$

where w_1, w_2, and w_3 represent the respective weights assigned to each factor in the risk equation.

1.4 Proposed System

In the conceptual framework of RegioClim, three interlinked modules form the backbone of its functionality: Climate Modeling, Socio-Economic Indicators, and Risk Calculation. This comprehensive system architecture enables RegioClim to offer a holistic approach to addressing the challenges posed by climate change, integrating scientific data with socio-economic insights to inform decision-making processes effectively.

Climate Modeling: At the core of RegioClim lies its robust climate modeling module, which utilizes advanced algorithms and modeling techniques to generate accurate projections of future climate scenarios. Drawing upon historical climate data and incorporating variables such as greenhouse gas emissions and land-use changes, this module provides stakeholders with invaluable insights into the potential impacts of climate change on their regions.

Socio-Economic Indicators: Complementing the climate modeling module, RegioClim incorporates socio-economic indicators to contextualize the projected climate impacts within broader societal dynamics. By integrating demographic trends, economic indicators, and social vulnerability assessments, this module offers a nuanced understanding of how climate change intersects with various aspects of human society, facilitating targeted interventions and adaptation strategies.

Risk Calculation: Building upon the insights gleaned from the climate modeling and socio-economic indicators modules, RegioClim's risk calculation module quantifies the potential risks associated with climate change for different sectors and regions. Through probabilistic modeling and scenario analysis, this module enables stakeholders to assess the likelihood and severity of various climate-related hazards, from extreme weather events to sea-level rise, empowering them to prioritize mitigation and adaptation measures accordingly.

The following 1.1 represents the overall architecture of the proposed RegioClim system, demonstrating how the climate modeling, socio-economic analysis, and risk calculation modules are integrated to deliver the project's objectives.

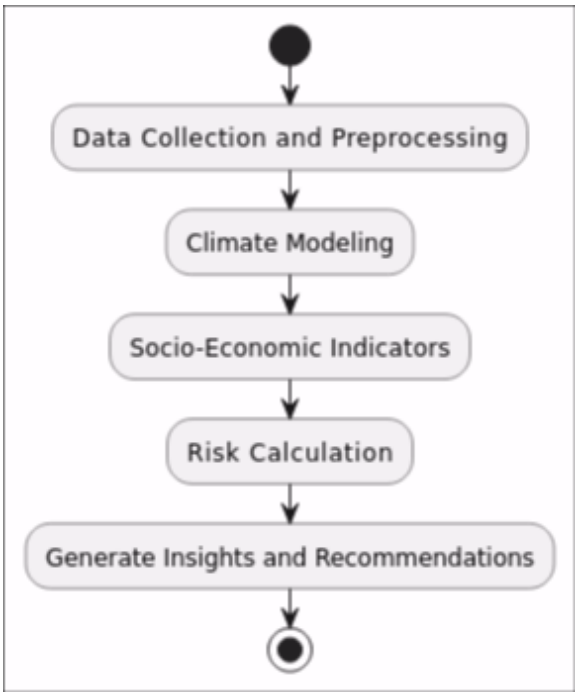

Figure 1.1: Proposed System

1.5 Scope

The scope of the project, "RegioClm," is comprehensive, encompassing three main modules to facilitate in-depth climate and socio-economic analyses.

1.6 Objective

Develop "RegioClm" as a versatile and accessible tool that caters to the diverse needs of users, provides robust system management capabilities for administrators, and offers an efficient development environment for developers.

For Users

- **Objective:** Enable users, such as researchers, policymakers, and the general public, to interact seamlessly with RegioClm. Users should be able to explore diverse climate indicators, interact with socio-economic trends, utilize risk assessment features, and benefit from the educational aspects of the tool for a comprehensive understanding of climate and socio-economic data.

For Administrators

- **Objective:** Empower administrators to efficiently manage and monitor the RegioClm system. This includes tasks such as monitoring system performance and ensuring the overall functionality and security of the platform.

For Developers

- **Objective:** Provide developers with the tools and capabilities to maintain and enhance RegioClm. Developers should be able to implement updates, troubleshoot technical issues, and contribute to the continuous improvement and expansion of RegioClm's features and capabilities.

1.7 Motivation

In a world where the impacts of climate change are increasingly evident, there arises an urgent need for innovative solutions that can effectively address the complex challenges it presents. The motivation behind the development of RegioClim stems from a deep-seated recognition of the profound interconnections between climate dynamics and societal well-being.

At the heart of RegioClim lies the acknowledgment of the critical role that climate projections play in shaping our understanding of future environmental conditions. However, mere data provision is insufficient in the face of the multifaceted nature of climate change. The motivation to create RegioClim springs from the desire to transcend conventional approaches by offering a holistic tool that not only delivers accurate climate data but also integrates socio-economic indicators to provide a comprehensive perspective on the impacts of climate change.

The motivation to develop RegioClim is rooted in the recognition of the challenges faced by decision-makers and stakeholders in navigating the complexities of climate change. In a landscape marked by fragmented information and uncertainty, there is a pressing need for a centralized platform that can consolidate and analyze diverse datasets to inform decision-making processes effectively.

Moreover, the motivation behind RegioClim is fueled by a profound sense of responsibility towards building a more resilient and sustainable future. By empowering stakeholders with the knowledge and tools to anticipate and mitigate climate-related risks, RegioClim strives to foster

adaptive capacity and promote proactive measures that enhance resilience at both local and global scales.

In essence, the motivation to create RegioClim emanates from a shared commitment to harnessing the power of technology and innovation to address one of the greatest challenges of our time. Through collaborative efforts and a steadfast dedication to advancing climate science and societal well-being, RegioClim aspires to be a catalyst for positive change in the fight against climate change.

1.8 Application

RegioClim's versatile application transcends boundaries, offering a multifaceted toolset that caters to diverse stakeholders across various sectors. From policymakers and researchers to community leaders and businesses, RegioClim's applications span a wide array of domains, each benefiting from its unique capabilities.

1. Policy Development and Planning: RegioClim empowers policymakers with actionable insights into the projected impacts of climate change on their regions. By integrating climate projections and socio-economic data, it facilitates evidence-based decision-making, enabling policymakers to formulate robust adaptation and mitigation strategies. From designing resilient infrastructure to implementing climate-sensitive land-use planning, RegioClim serves as a valuable tool for policy development and planning at local, regional, and national levels.

2. Community Resilience and Engagement: At the community level, RegioClim fosters resilience by engaging stakeholders in participatory decision-making processes. Through interactive visualizations and user-friendly interfaces, it facilitates community awareness and empowerment, enabling residents to understand and address the climate-related challenges they face. Whether it's enhancing disaster preparedness or promoting sustainable livelihoods, RegioClim empowers communities to take proactive measures towards building resilience.

3. Research and Education: RegioClim serves as a valuable resource for researchers and educators alike, providing access to comprehensive climate and socio-economic data for analysis and dissemination. Researchers can leverage RegioClim's robust modeling capabilities to advance our understanding of climate dynamics and inform future research agendas. Similarly, educators can utilize RegioClim as a teaching tool to educate students about the complexities of climate change and inspire them to become agents of positive change in their communities.

4. Business Risk Management: For businesses, RegioClim offers insights into the potential risks and opportunities associated with climate change. By integrating climate projections with socio-economic indicators, it enables businesses to assess and mitigate climate-related risks to their operations and supply chains. From identifying vulnerable assets to exploring new market opportunities, RegioClim equips businesses with the knowledge and tools needed to navigate the uncertainties of a changing climate.

5. International Development and Cooperation: RegioClim also holds promise for international development efforts, facilitating collaboration and cooperation among countries and organizations. By providing a common platform for data sharing and analysis, it enhances the capacity of developing countries to address climate change and achieve sustainable development goals. Through partnerships and knowledge exchange initiatives, RegioClim contributes to building a more resilient and equitable world for all.

In summary, RegioClim's applications are as diverse as the challenges posed by climate change itself. By leveraging its capabilities across various sectors and stakeholders, RegioClim paves the way for a more sustainable and resilient future for generations to come.

1.9 Existing Systems

Traditionally, climate modeling and analysis have been conducted at a broader scale, typically at the national or regional level. Government agencies, research institutions, and international organizations often undertake these efforts to understand and predict climate patterns, assess risks, and inform policy decisions. However, such approaches often lack granularity and may overlook localized variations and vulnerabilities.

At the country level, climate modeling initiatives typically rely on global climate models (GCMs) and downscaled regional climate models (RCMs) to generate projections for broad geographical areas. While these models provide valuable insights into large-scale climate dynamics, they may not capture the nuances and complexities of climate variability at smaller spatial scales, such as districts or municipalities.

Furthermore, socio-economic analysis and risk assessment in the context of climate change are often conducted separately from climate modeling efforts. Socio-economic data, such as population demographics, economic indicators, and infrastructure details, may be collected and analyzed independently of climate projections, limiting the integration of these critical factors into adaptation and mitigation strategies.

In summary, the existing system for climate modeling typically operates at a higher level of spatial resolution, focusing on national or regional scales, and may lack integration with socio-economic analysis. This approach may overlook localized vulnerabilities and hinder the development of targeted adaptation and mitigation measures at the district level.

1.10 Project Organization

The project organization delineates the selected software process model, roles and responsibilities, and the technologies employed for the implementation of the "RegioClm" system.

Software Process Model

The chosen software process model for the development of "RegioClm" is Agile. The Agile methodology promotes iterative development, collaboration, and flexibility, allowing for continuous adaptation to changing requirements.

Roles and Responsibilities

In the "RegioClm" web application, various roles contribute to the project's success within the Agile framework.

Tools and Technology

The development of "RegioClm" is facilitated by the Flask[7] framework, providing a robust foundation for web development. Flask [7]is chosen for its flexibility, simplicity, and scalability, making it well-suited for building a web-based tool with diverse functionalities.

Chapter 2

Software Requirements Specifications

2.1 Introduction

This chapter specifies the general factors affecting the product, providing background and summarizing the functions the software will perform. It describes user capabilities and interests.

2.2 Product Overview

RegioClim, a web-based tool, addresses climate change challenges using the Flask [7] framework. It has three modules for climate modeling, socio-economic indicators, and risk assessment.

Stakeholders

Users, Administrators, Developers, Government Agencies, Environmental Organizations.

Major Functions

- Evaluate Climate Model Projections: All users, including Administrators and Developers.
- Explore Past Climate Trends: Users, Administrators, and Developers.
- Predict Future Socio-Economic Indicators: All users, including Administrators and Developers.
- Visualize Historical Trends: Users, Administrators, and Developers.
- Identify Vulnerable Areas: All users, including Administrators and Developers.
- Assess Climate-Related Risks: All users, including Administrators and Developers.

Major Inputs and Outputs

Major Inputs

- Users input specific climate models, parameters, and timeframes.
- Users specify criteria for exploring historical climate trends.
- Users provide parameters for predicting future socio-economic indicators.
- Users define criteria for visualizing historical climate trends.
- Users input criteria for identifying vulnerable areas.

Major Outputs

- Users receive visual representations of climate model projections.
- Users are presented with visual representations of historical climate trends.
- Users receive visualizations and data depicting predicted future socio-economic indicators.
- Users are provided with visual representations and data depicting historical climate trends.
- Users receive visual output identifying areas vulnerable to specific climate-related risks.

Definitions, Acronyms and Abbreviations

Acronyms	Definitions
UC	Use Case
Users	Climate Expert
Admin	Administrator

Table 2.1: Acronyms and Definitions

2.3 Specific Requirements

External Interface Requirements

User Interfaces The user interfaces use a user-friendly color combination. Interfaces are responsive, using Bootstrap for adaptability to different screen widths.

Software Interfaces The website runs on any operating system with any web browser. Client-side requirements include a web browser of any type.

Hardware Interface No hard hardware requirements; the website can run on a processor with Windows XP. Recommended to use a better machine for optimal performance.

Communication Protocols The website uses the HTTP protocol for internet communication.

2.4 Software Product Features

User Features

- Explore Climate Model Projections
- Explore Past Climate Trends
- Predict Future Socio Economic Indicators
- Visualize Historical Trends
- Assess Climate-Related Risks

—

2.5 Software System Attributes

Reliability The system is designed to provide accurate results for queries, ensuring reliability.

Availability Accessible on the internet from various devices. Efforts made to restore services promptly in case of disruptions.

Security The system employs measures to guard against common security risks, including but not limited to SQL injection attacks, ensuring a robust and secure environment. While the current implementation does not include encryption and decryption mechanisms, the system's security features are regularly reviewed and may be further enhanced based on evolving security needs.

Maintainability The system's content and functionality are managed by administrators. Immediate actions will be taken in case of system failure.

Portability Designed to be platform-independent, providing consistent features and performance.

Performance The system is optimized for fast query responses, ensuring that users can obtain results promptly. It is built to support multiple users concurrently, maintaining optimal performance during peak usage times.

2.6 List of Use Cases

1. Evaluate Climate Model Projections
2. Explore Past Climate Trends
3. Predict Future Scenarios

4. Visualize Historical Trends
5. Assess Climate-Related Risks

2.7 Use Case Diagram

The following use case diagram 2.1 represents the various interactions users can have with the system, including evaluating climate projections, exploring past trends, and predicting future scenarios.

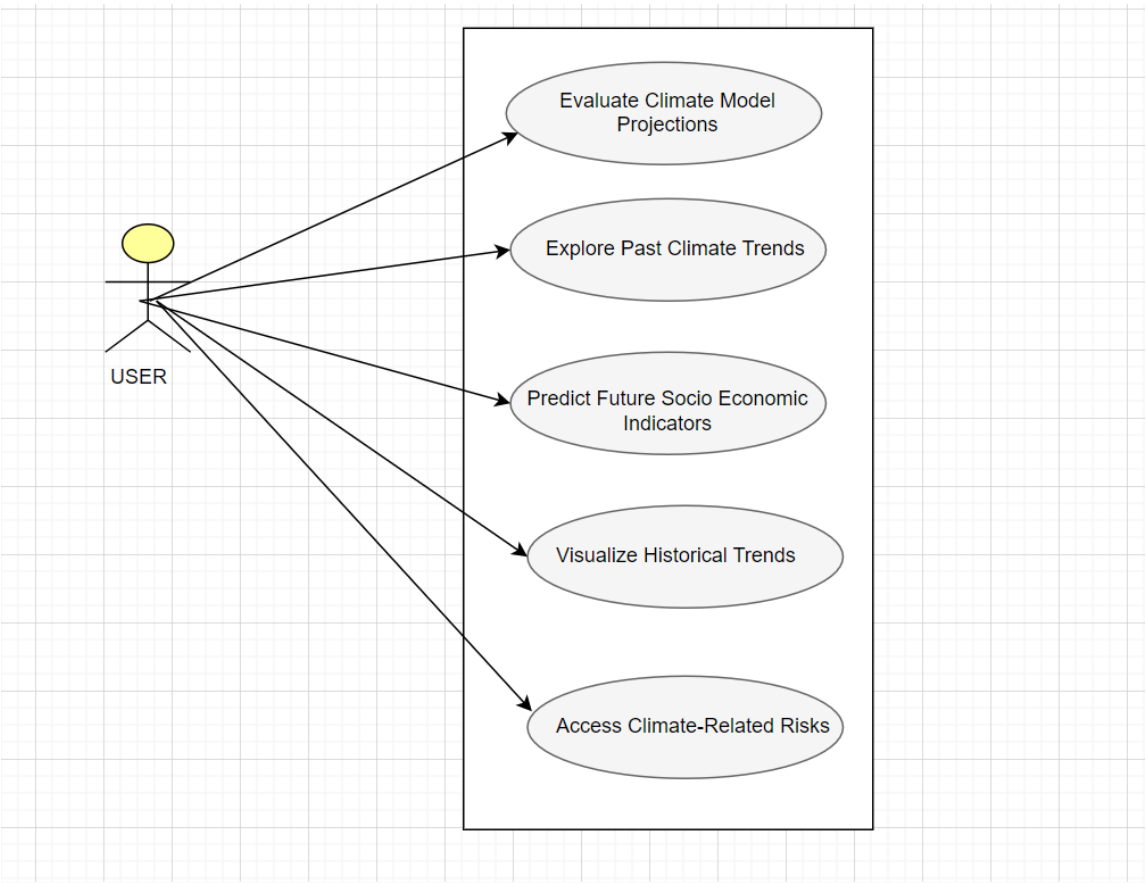

Figure 2.1: Use Case Diagram

2.7.1 Use Case Descriptions

Use Case 1: Evaluate Climate Model Projections

This table 2.2 describes the first use case, where climate experts can evaluate model projections by providing the necessary parameters and reviewing the results.

Use Case	UC1: Evaluate Climate Model Projections
Primary Actor	Climate Expert
Pre-Conditions	Access to RegioClim system.
Post-Conditions	Climate model projections evaluated successfully.
Main Scenario	1. Climate expert selects "Evaluate Climate Model Projections." 2. The system prompts for necessary input parameters. 3. Climate expert provides input parameters. 4. The system processes climate model projections. 5. Evaluation results are presented to the climate expert.
Alternative Scenario	• If the system encounters an error during processing: – The system alerts the climate expert. – The climate expert may choose to retry or seek technical support.

Table 2.2: UC1: Evaluate Climate Model Projections

Use Case 2: Explore Past Climate Trends

The following table 2.3 describes the second use case, allowing users to explore past climate trends by selecting specific criteria and receiving visual representations of the data.

Use Case	UC2: Explore Past Climate Trends
Primary Actor	Users
Pre-Conditions	Access to RegioClim system.
Post-Conditions	Past climate trends explored successfully.
Main Scenario	1. Users select "Explore Past Climate Trends." 2. The system provides options for exploring past climate data. 3. Users select specific criteria for exploration. 4. The system retrieves and displays past climate trends. 5. Users analyze and interpret the displayed trends.
Alternative Scenario	• If the selected criteria yield no results: – The system notifies users and suggests adjusting the criteria.

Table 2.3: UC2: Explore Past Climate Trends

Use Case 3: Predict Future Scenarios

This table 2.4 outlines how users can input parameters to predict future scenarios, utilizing climate data and models to generate potential outcomes for socio-economic and climate indicators.

Use Case	UC3: Predict Future Scenarios
Primary Actor	Users
Pre-Conditions	Access to RegioClim system.
Post-Conditions	Future climate scenarios predicted successfully.
Main Scenario	1. Users select "Predict Future Scenarios." 2. The system prompts users for relevant parameters. 3. Users input required parameters. 4. The system processes and presents predicted future climate scenarios. 5. Users review and analyze the predicted scenarios.
Alternative Scenario	• If input parameters are invalid or incomplete: – The system notifies users and requests valid input.

Table 2.4: UC3: Predict Future Scenarios

Use Case 4: Visualize Historical Trends

This table provides 2.5 the details for the use case that allows users to visualize historical climate trends by specifying parameters and viewing data trends.

Use Case	UC4: Visualize Historical Trends
Primary Actor	Users
Pre-Conditions	Access to RegioClim system.
Post-Conditions	Historical climate trends visualized successfully.
Main Scenario	1. Users choose "Visualize Historical Trends." 2. The system provides options for visualizing historical climate data. 3. Users select specific parameters for visualization. 4. The system generates visual representations of historical trends. 5. Users interpret the visualizations to gain insights.
Alternative Scenario	• If the system encounters issues generating visualizations: – The system informs users and suggests retrying or seeking support.

Table 2.5: UC4: Visualize Historical Trends

Use Case 5: Assess Climate-Related Risks

he following table 2.6 details the use case in which users can assess climate-related risks by inputting relevant parameters, helping stakeholders identify potential threats.

Use Case	UC6: Assess Climate-Related Risks
Primary Actor	Users
Pre-Conditions	Access to RegioClim system.
Post-Conditions	Climate-related risks assessed successfully.
Main Scenario	1. Users select "Assess Climate-Related Risks." 2. The system presents tools for assessing risks. 3. Users input parameters for risk assessment. 4. The system evaluates and provides a comprehensive risk assessment. 5. Users review and act upon the assessment results.
Alternative Scenario	• If the system encounters issues during risk assessment: – The system notifies users and suggests reviewing input parameters.

Table 2.6: UC5: Assess Climate-Related Risks

2.7.2 System Sequence Diagram

Use Case 1: Evaluate Climate Model Projections

This figure 2.2 shows the system sequence diagram for the use case 'Evaluate Climate Model Projections,' displaying the interaction between the user and system components.

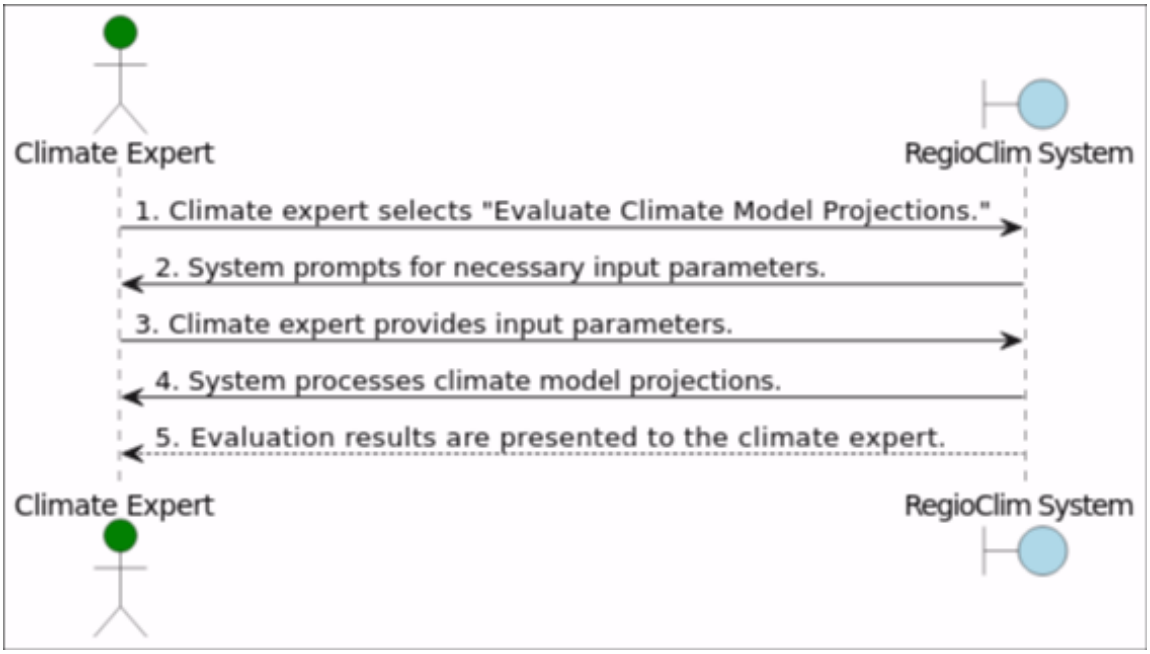

Figure 2.2: System Sequence Diagram for Use Case 1: Evaluate Climate Model Projections

Use Case 2: Explore Past Climate Trends

The sequence diagram 2.3 below outlines how users interact with the system to explore past climate trends, step by step.

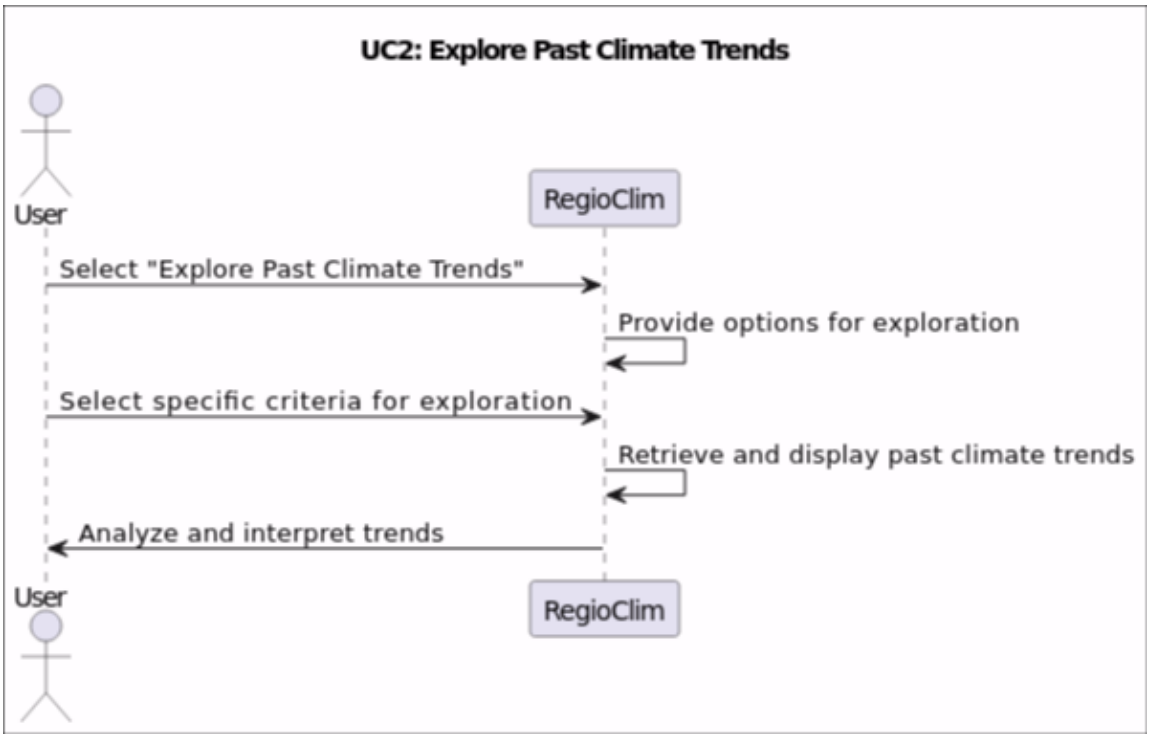

Figure 2.3: System Sequence Diagram for Use Case 2: Explore Past Climate Trends

Use Case 3: Predict Future Scenarios

This figure 2.4 depicts the system sequence diagram for predicting future climate scenarios, illustrating how users input data and receive projections.

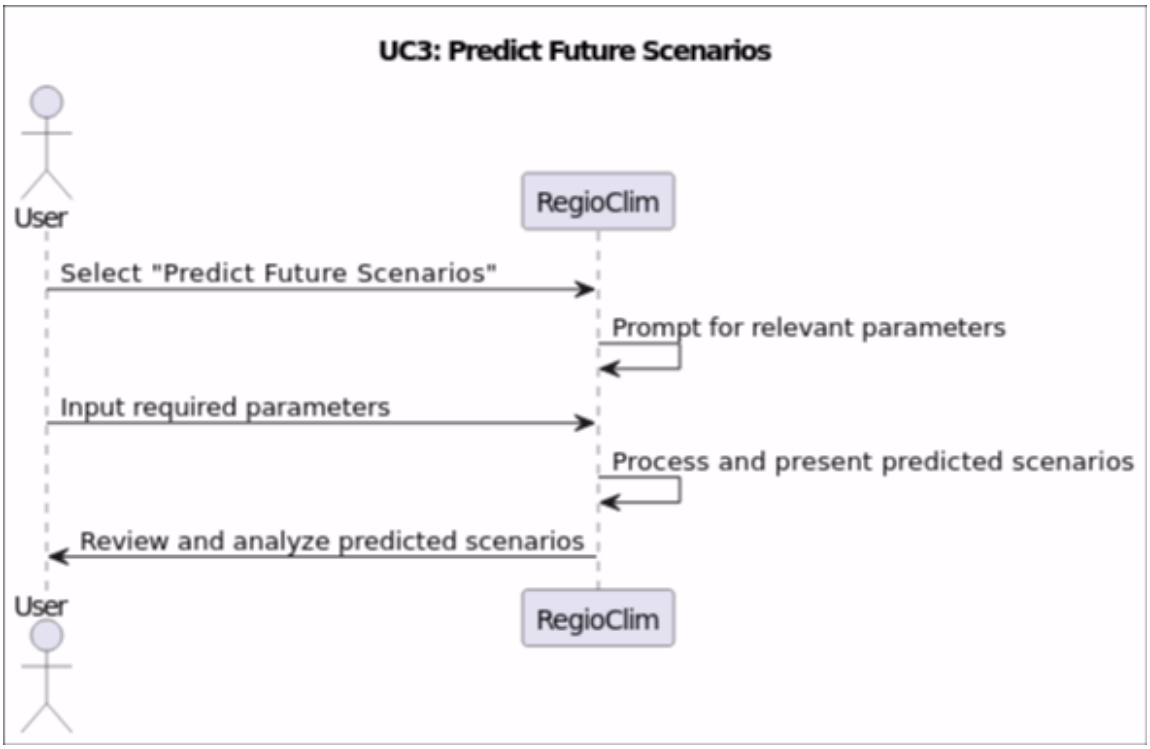

Figure 2.4: System Sequence Diagram for Use Case 3: Predict Future Scenarios

Use Case 4: Visualize Historical Trends

The following sequence diagram 2.5 demonstrates how users visualize historical climate trends, with each step from data input to output represented.

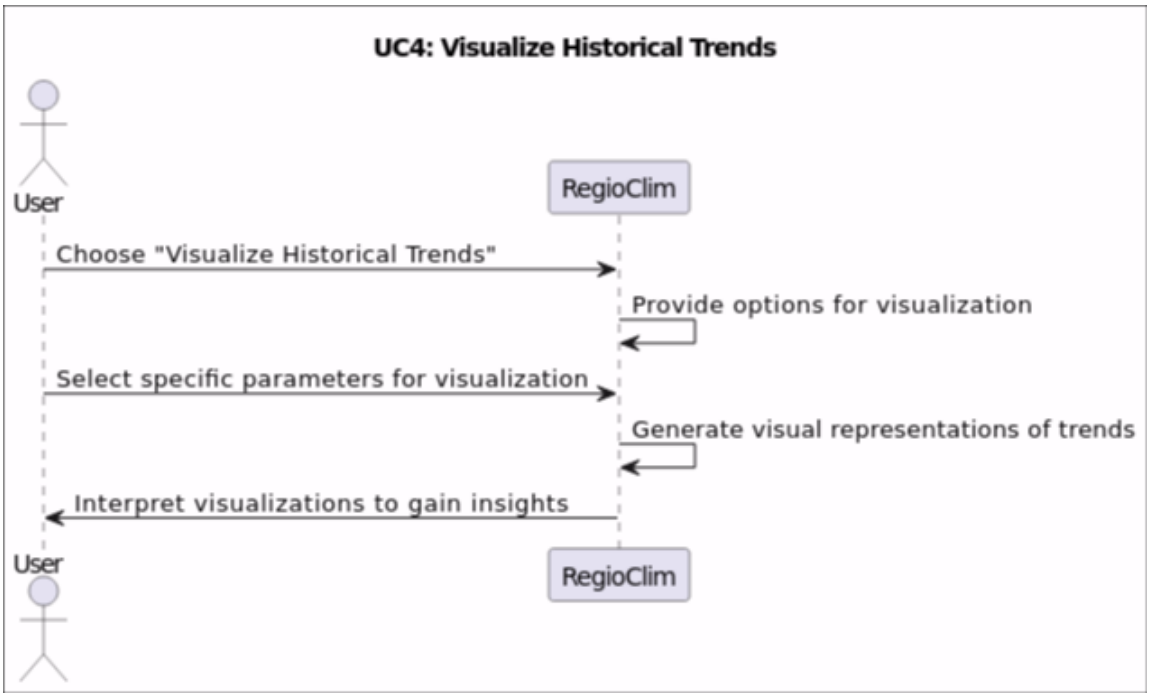

Figure 2.5: System Sequence Diagram for Use Case 4: Visualize Historical Trends

Use Case 5: Assess Climate-Related Risks

The diagram 2.6 below details how users assess climate-related risks by interacting with the system's risk assessment module.

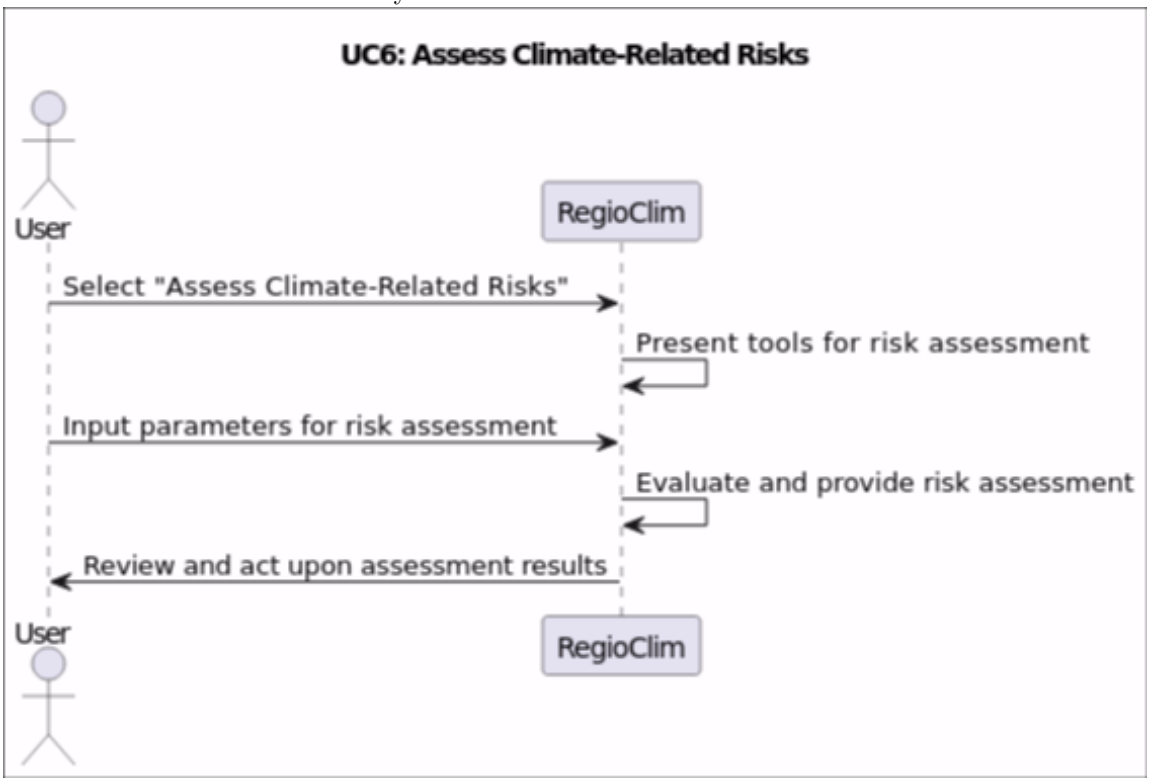

Figure 2.6: System Sequence Diagram for Use Case 5: Assess Climate-Related Risks

Chapter 3

Software Design Description

3.1 Introduction

In this chapter, we are discussing about the design of the system. It is being discussed that what is the system architecture design, how it will work and what are the alternative architecture designs. It is also being discussed about the system interface description. In this chapter Architectural Diagrams , Domain Model and Activity diagrams. Screen images of user interfaces are also provided in this chapter which clears that how user will interact with the system.

Design Overview

Systems design is the process of defining the architecture, components, modules, interfaces, and data for a system to satisfy specified requirements. It applies systems theory to product development [**?**].

Requirements Traceability Matrix

The Requirements Traceability Matrix (RTM) is a document that links requirements throughout the validation process.The purpose of the Requirements Traceability Matrix is to ensure that all requirements defined for a system are tested in the test protocols [**?**].

3.2 System Architecture Design

The architectural design of a system emphasizes the design of the systems architecture that describes the structure, behaviour and more views of that system and analysis.

Chosen System Architecture

Model View Controller or MVC as it is popularly called, is a software design pattern for developing web applications. A MVC pattern is made up of the following three parts: Model - The lowest level of the pattern which is responsible for maintaining the data. View - This is responsible for displaying all or a portion of the data to the user. Controller - Software Code that controls the interactions between the Model and View [**?**].

Discussion of Alternative Designs

Model View Presenter (MVP) is a derivation of the MVC architectural pattern, and is used mostly for building user interfaces. In MVP the presenter assumes the functionality of the "middle-man". In MVP, all presentation logic is pushed to the presenter. Model View ViewModel (MVVM) is a software architectural pattern. MVVM abstracts a view's state and behaviour in the same way, but a Presentation Model abstract a view (creates a view model) in a manner not dependent on a specific user-interface platform. MVVM and Presentation Model both derive from the Model View Controller pattern (MVC).

Architectural Diagram

This architecture diagram 3.1 provides an overview of the RegioClim system's structure, illustrating how the different modules such as climate modeling, socio-economic visualization, and risk assessment interact.

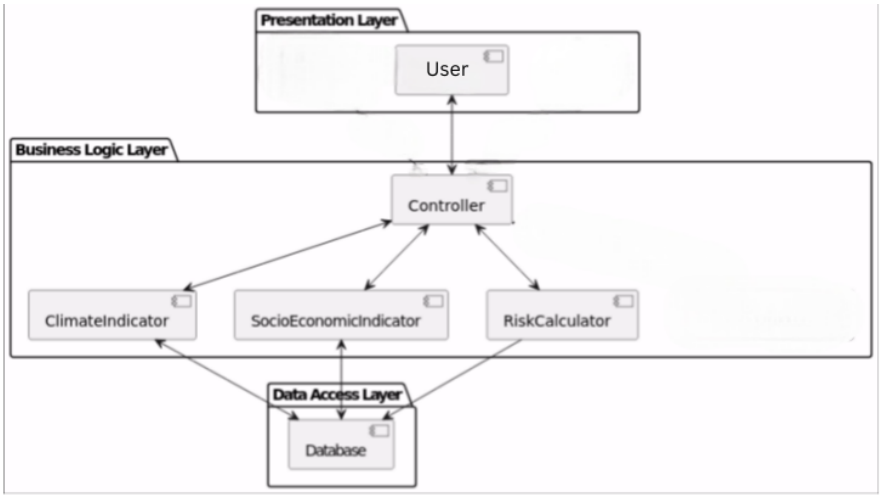

Figure 3.1: Architecture Diagram

3.3 Domain Model

The domain model diagram 3.2 below represents the key entities within the RegioClim system and how they relate to each other. It demonstrates the conceptual relationships between climate data, socio-economic indicators, and risk calculations.

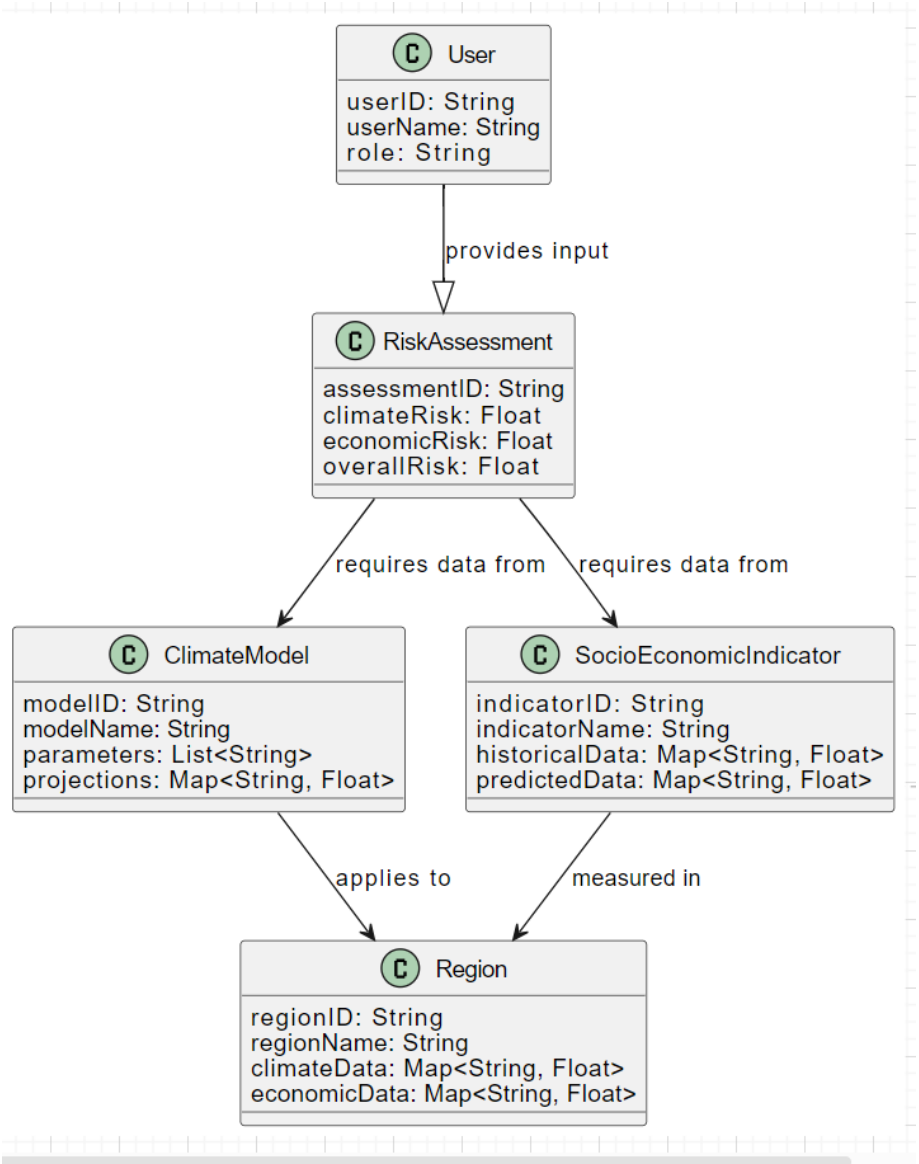

Figure 3.2: Domain Model

3.4 Class Diagram

This figure 3.3 depicts the class diagram for RegioClim, showcasing the primary classes, their attributes, and how they interact with each other in the system.

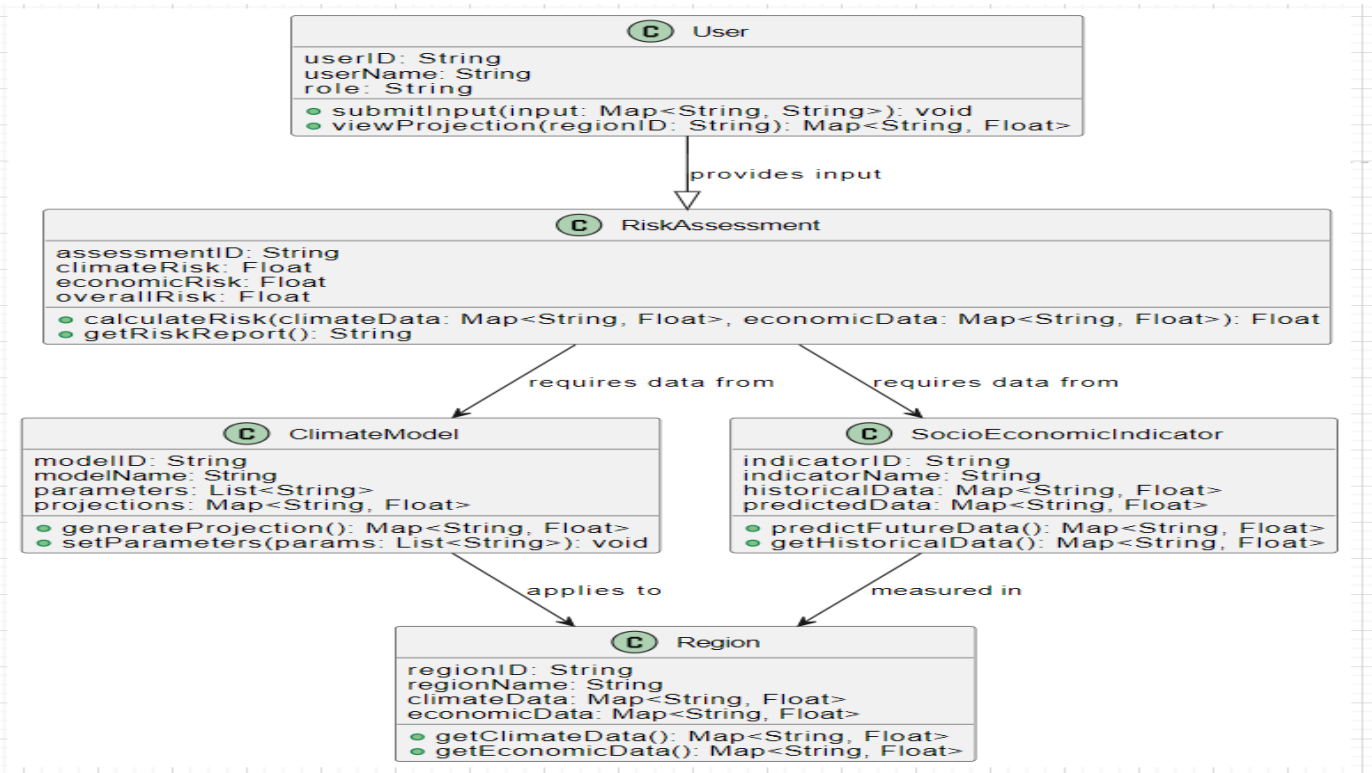

Figure 3.3: Class Diagram

3.5 Detailed Description of Components

The component is uniquely identifiable input, part, piece, assembly or subassembly, system or subsystem that is required to complete or finish an activity, item, or job and performs distinctive and necessary functions in the operation of a system.

3.6 Activity Diagrams

An activity diagram is a graphical representation of an executed set of procedural system activities and is considered a state chart diagram variation. Activity diagrams describe parallel and conditional activities, use cases, and system functions at a detailed level.

Evaluate Climate Model Projections

This activity diagram 3.4 represents the workflow for evaluating climate model projections, showing the various steps users follow to interact with the system's climate models.

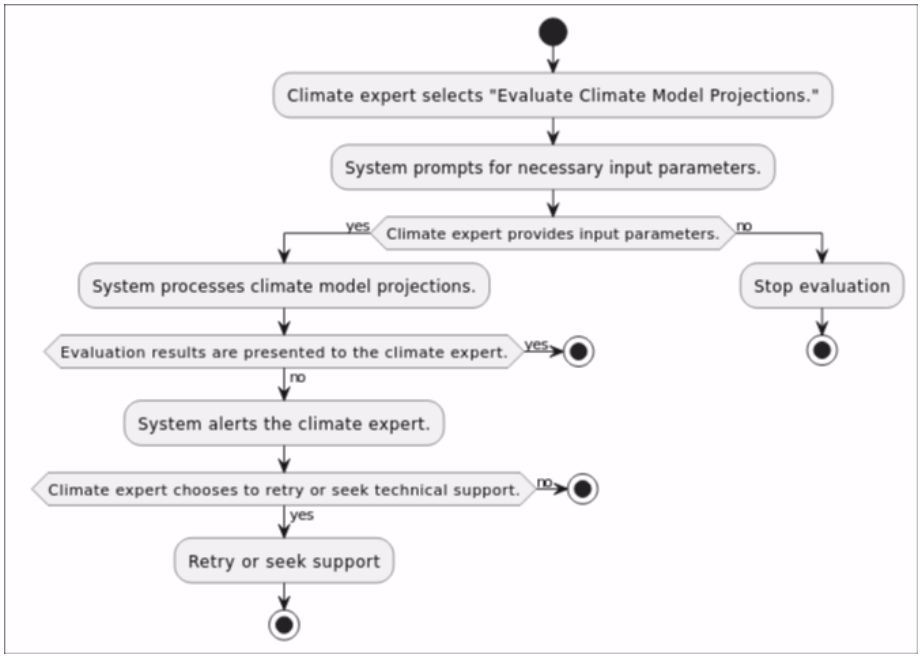

Figure 3.4: Activity Diagram (Evaluate Climate Model Projections)

Explore Past Climate Trends

The diagram 3.5 below represents how users can explore past climate trends using the system's data retrieval features and visualizations.

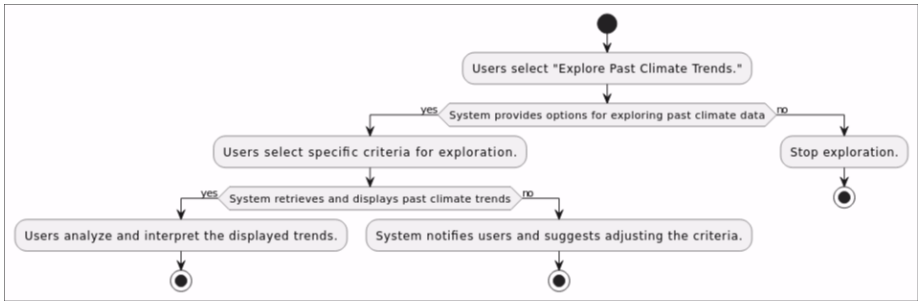

Figure 3.5: Activity Diagram (Explore Past Climate Trends)

Predict Future Scenarios

This activity diagram 3.6 illustrates the process of predicting future scenarios based on user-provided parameters and climate models.

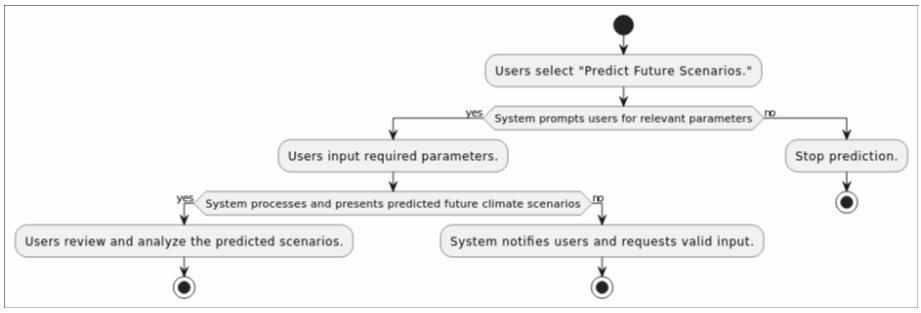

Figure 3.6: Activity Diagram (Predict Future Scenarios)

Visualize Historical Trends

The following diagram 3.7 outlines the process of visualizing historical climate trends within the system, where users specify the criteria for generating graphs and visualizations.

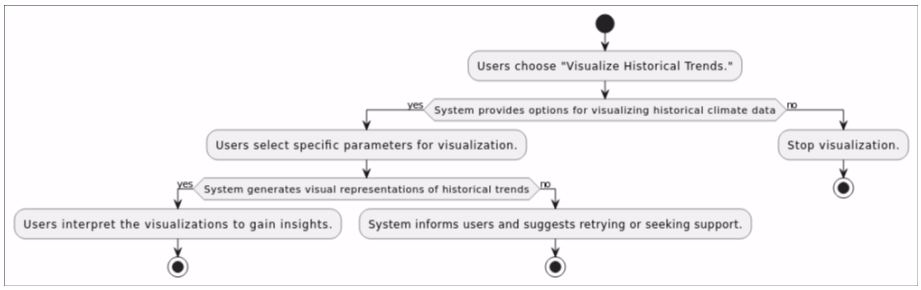

Figure 3.7: Activity Diagram (Visualize Historical Trends)

Assess Climate-Related Risks

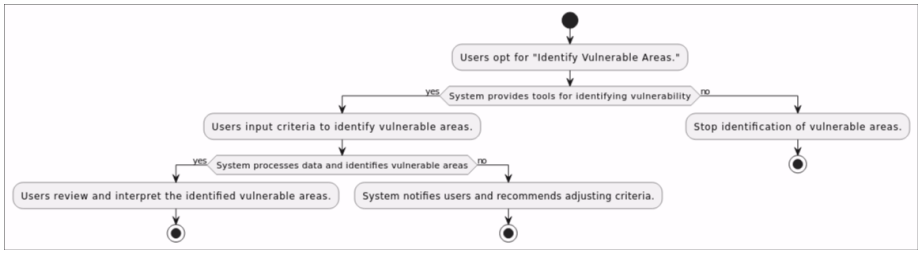

Figure 3.8: Activity Diagram (Identify Vulnerable Areas)

Chapter 4

Software Implementation

This chapter outlines the software implementation of the RegioClim system, detailing the tools, frameworks, and techniques used to develop the application. The system processes climate and socio-economic data from CSV files to make predictions and visualize trends. The software is divided into various modules that handle climate modeling, socio-economic indicator visualization, risk calculation, and predictions of future economic indicators.

4.1 System Definition

The RegioClim system consists of a web-based platform that processes CSV files containing climate and socio-economic data to provide meaningful insights and predictions. The core components of the system are:

- **Climate Modeling Module**: This module does not rely on past data for projections but uses climate models to generate future projections. Users can select specific climate indicators to model from a predefined set of indicators..
- **Socio-Economic Visualization Module**: Visualizes socio-economic indicators such as GDP, inflation, and unemployment rates.
- **Risk Calculation Module**: Calculates climate-related risks using integrated climate and socio-economic data and gives back a risk ratio.
- **Prediction Module**: Displays a graph in which Prediction of future socio-economic indicators and trends using machine learning and deep learning models are done.

4.2 Development Tools

Python was selected as the primary language for the development of the system due to its rich ecosystem of data analysis and machine learning libraries. The following tools were used during the development process:

Libraries

- **Pandas**[1]: Used for data manipulation and analysis, particularly for reading and processing CSV files.
- **NumPy** [2]: Used for numerical operations and handling large datasets efficiently.
- **Scikit-learn** [3]: Employed for building and training machine learning models for predictions.
- **Matplotlib** [4] and **Seaborn** [6]: Used for data visualization, generating plots for climate and socio-economic trends.
- **Plotly** [5]: Provides interactive visualizations for exploring the data dynamically.

Framework

Flask [7] was chosen as the web framework to develop the web-based platform due to its simplicity and scalability. It serves as the backbone of the system, handling the communication between the user interface and backend data processing modules.

Data Handling

The system reads and processes CSV files for the data related to climate and socio-economic indicators. Python's `pandas`[1] library allows for efficient loading and manipulation of these CSV files, ensuring that the data can be cleaned, filtered, and analyzed for meaningful insights.

4.3 Implementation Details

Climate Modeling Module

In this module, the user selects climate indicators from a predefined set, and the system runs projections using climate models. These models are integrated within the system and provide future climate projections based on various climate scenarios, rather than historical data alone.

Socio-Economic Visualization Module

This module allows users to select specific socio-economic indicators (e.g., GDP, unemployment) and regions. Once selected, the system visualizes historical data trends for the chosen indicators and regions. The visualizations enable users to explore socio-economic trends across different areas and periods

Risk Calculation Module

Users input weights for climate and socio-economic indicators, along with a vulnerability factor. The system then uses these inputs to compute the overall risk. The calculation is based on user-defined priorities, providing a flexible approach for assessing the potential impact of climate and socio-economic factors.

Prediction Module

Users can view graphs that show predicted future trends for both climate and socio-economic indicators. These graphs provide a clear visual representation of the results produced by the climate models and socio-economic projections. The predictions help users explore how different factors will evolve over time

4.4 User Interface

The user interface allows users to:

Select climate indicators to project future climate scenarios using integrated climate models. Choose socio-economic indicators and regions to visualize historical data and trends. Input weights for climate and socio-economic indicators, and define vulnerability levels for risk calculation. View prediction graphs for climate and socio-economic trends, visualized dynamically based on user inputs.

4.5 Screen Images

This section includes various screenshots of the system interface and its features. Each figure below provides a visual representation of the corresponding functionality or module within the system.

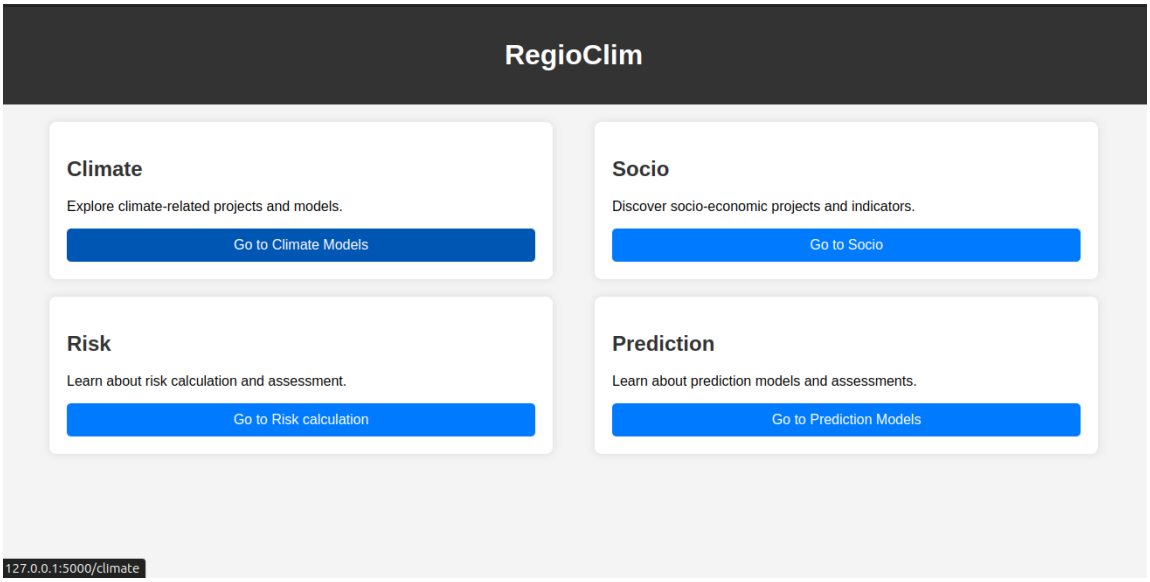

Figure 4.1: Layout page

Figure 4.1 shows the layout page of the system. This image provides an overview of the user interface and the arrangement of different components on the screen.

Figure 4.2: Socio Economic Indicator Visualization

As depicted in Figure 4.2, this screenshot illustrates the visualization of socio-economic indicators. It highlights how the system represents various socio-economic data graphically, facilitating analysis and interpretation.

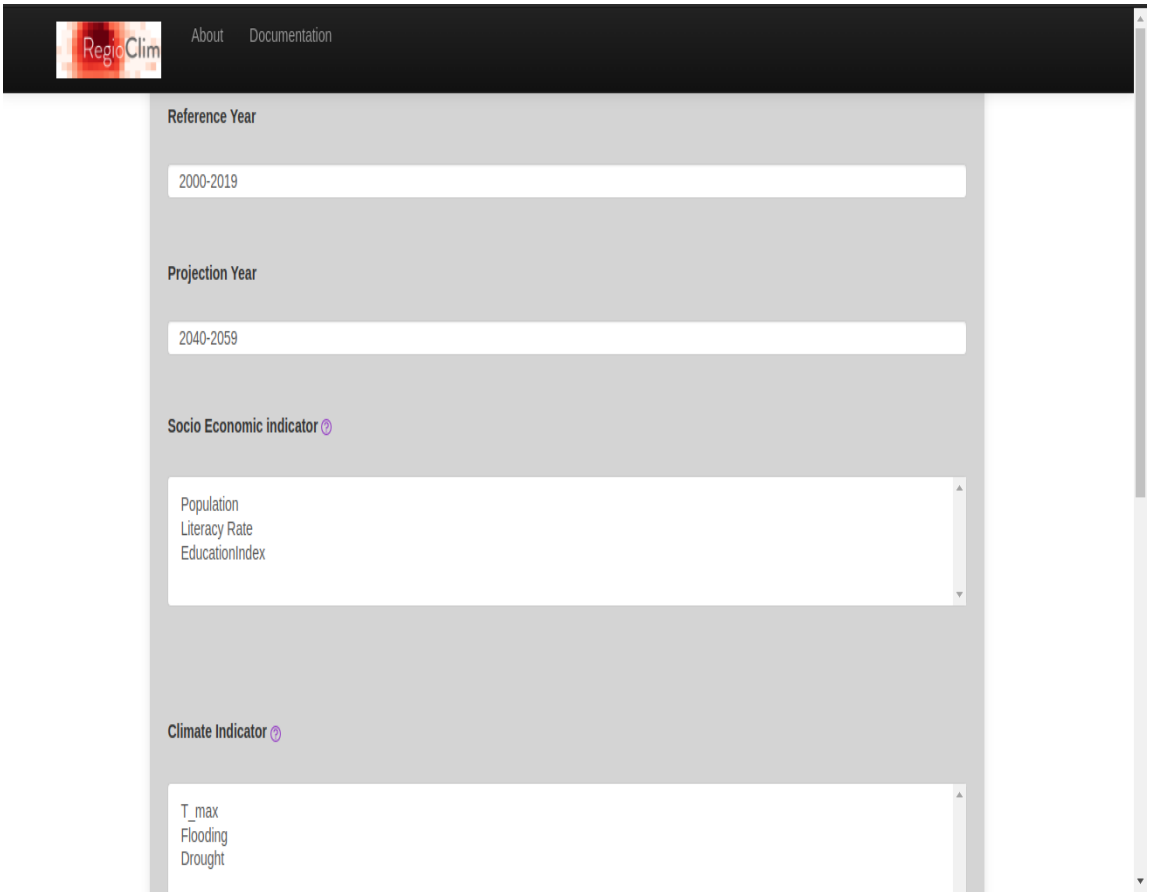

Figure 4.3: Risk Calculation

Figure 4.3 captures the risk calculation interface. This image demonstrates how users can input data to calculate and assess risks based on selected indicators.

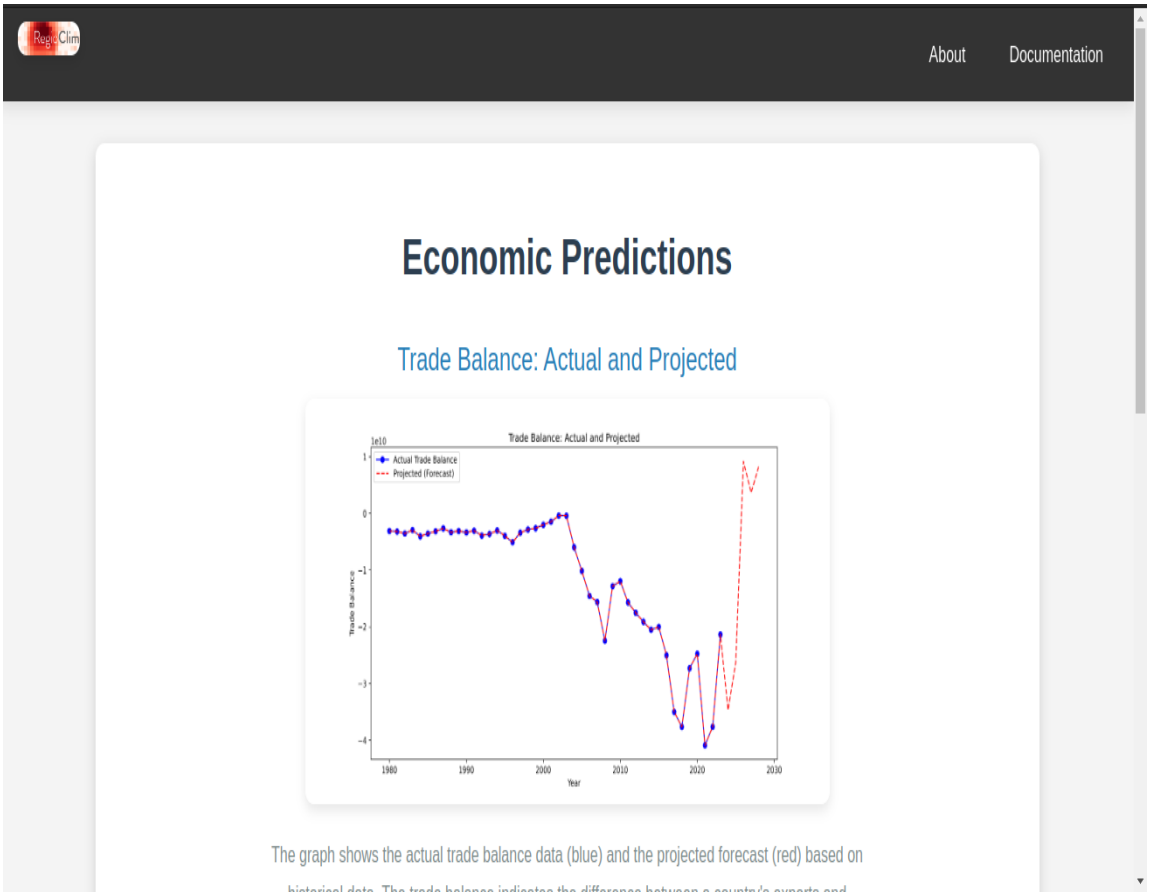

Figure 4.4: Economic Indicators Prediction

The prediction of economic indicators is shown in Figure 4.4. This figure displays the module used to forecast economic trends based on historical data.

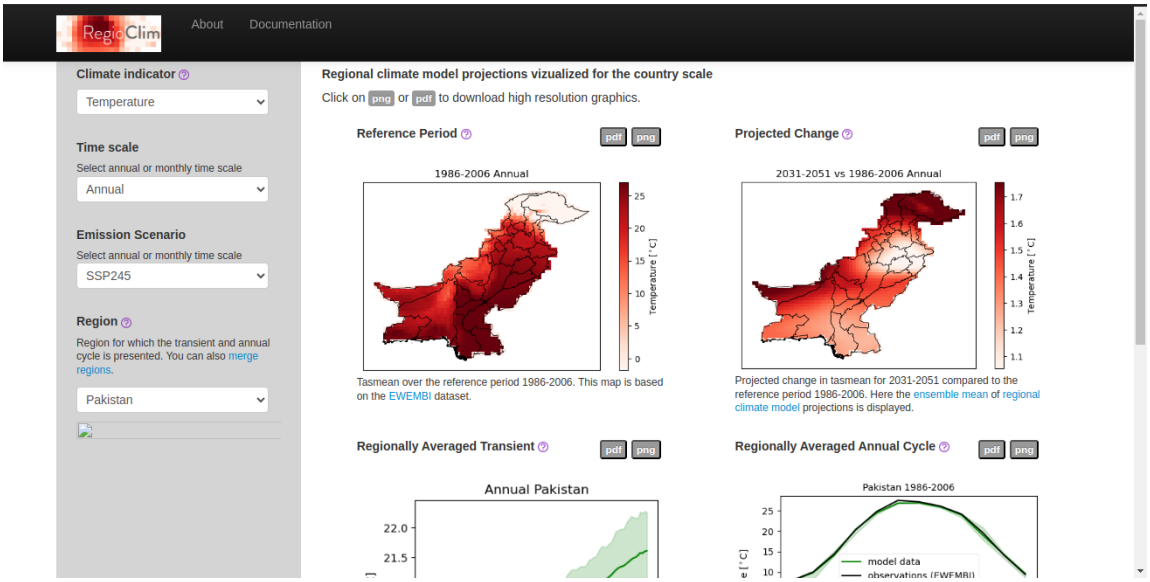

Figure 4.5: Climate Indicators Prediction

Lastly, Figure 4.5 illustrates the climate indicators prediction screen. This screenshot demonstrates the system's functionality for predicting climate trends using various input parameters and historical data.

4.6 Summary

The implementation of RegioClim involved the integration of climate data and socio-economic indicators from CSV files, processed through Python libraries, and presented via a Flask-based web application [7]. The combination of data visualization, risk assessment, and prediction modules ensures that users can explore the implications of climate change and make informed decisions.

Chapter 5

Software Test Documentation

5.1 Introduction

Software testing is an essential process in software development aimed at identifying and fixing software bugs. It ensures that the system meets the functional and technical requirements outlined during the design phase. For the RegioClim system, testing is conducted to verify that the climate modeling, socio-economic visualization, risk calculation, and prediction functionalities work as expected, providing accurate and reliable outputs.

5.1.1 Test Approach

In this project, the **Reactive Test Approach** is employed, where testing begins after the system has been developed. Testing ensures the proper execution of the climate projections, socio-economic visualizations, risk calculations, and prediction graphs based on user inputs. Black-box testing is used to focus on functionality without considering the internal workings of the system.

5.2 Test Plan

The test plan outlines the goals, methods, and environments used for testing the RegioClim system. The objective is to ensure that the system performs climate and socio-economic data analysis, risk calculations, and predictions without any errors or unexpected results.

5.2.1 Testing Tools and Environment

Testing was performed using **Black-box testing**, focusing on system behavior based on user inputs and expected outputs. The tools and environment include:

- **Flask** [7] for running the web application.
- **CSV data files** containing climate and socio-economic data for testing different scenarios.
- **Pandas [1] and NumPy** [2] for verifying that the system processes data accurately.

5.3 Test Cases

5.3.1 Climate Projection Module

As shown in Table 5.1, the test case for the Climate Projection Module demonstrates successful generation of climate projections based on selected indicators.

ID	TC001
Description	User selects climate indicators to run a climate projection.
Tester	User
Setup	Predefined set of climate models and indicators.
Instructions	1. Go to the climate module. 2. Select multiple climate indicators (e.g., temperature, precipitation). 3. Run the projection.
Expected Results	A projection of climate scenarios is generated based on the selected indicators.
Actual Results	Climate projection generated successfully.
Verdict	Pass

Table 5.1: Test Case TC001: Climate Projection Module

5.3.2 Socio-Economic Visualization

Table 5.2 provides a summary of the test case for the Socio-Economic Visualization module, confirming that the visualizations are generated correctly based on the selected criteria.It verifies that the system can generate visualizations based on selected socio-economic indicators and regions.

ID	TC002
Description	User selects socio-economic indicators and a region for visualization.
Tester	User
Setup	CSV data containing socio-economic indicators by region.
Instructions	1. Log in to the system. 2. Go to the socio-economic visualization module. 3. Select indicators (e.g., GDP, inflation). 4. Select a region (e.g., Murree ,). 5. Generate visualization.
Expected Results	Visualizations of historical socio-economic data for the selected region are displayed.
Actual Results	The system displayed the visualizations as expected.
Verdict	Pass

Table 5.2: Test Case TC002: Socio-Economic Visualization

5.3.3 Risk Calculation

.Table 5.3 outlines the Risk Calculation test case, showing that the system accurately computes and displays risk based on input parameters.

ID	TC003
Description	User inputs weights for climate and socio-economic indicators to calculate risk.
Tester	User
Setup	Various climate and socio-economic indicators with predefined weight ranges.
Instructions	1. Go to the risk calculation module. 2. Select climate and socio-economic indicators. 3. Input weights for each indicator. 4. Calculate the risk.
Expected Results	The system calculates and displays risk based on the given inputs and weights.
Actual Results	The risk was calculated and displayed successfully.
Verdict	Pass

Table 5.3: Test Case TC003: Risk Calculation

5.3.4 Prediction Graphs

As detailed in Table 5.4, the test case for Prediction Graphs confirms that the system successfully generates and displays future projections.

ID	TC004
Description	User views prediction graphs for future socio-economic and climate indicators.
Tester	User
Setup	Models and algorithms for predicting future trends.
Instructions	1. Go to the prediction module. 2. Graphs will be displayed.
Expected Results	The system displays graphs for future projections.
Actual Results	Graphs were displayed as expected.
Verdict	Pass

Table 5.4: Test Case TC004: Prediction Graphs

Chapter 6

Conclusion and Future Work

6.1 Conclusion

The RegioClim system is a comprehensive solution aimed at tackling the multifaceted challenges posed by climate change through the integration of climate modeling and socio-economic analysis. By consolidating data from multiple sources and utilizing advanced algorithms for climate projections and risk assessments, RegioClim provides valuable insights for decision-makers across different sectors. The system's ease of use, supported by its user-friendly interface and robust backend, makes it accessible to policymakers, researchers, and the public.

The successful implementation of the various modules—climate modeling, socio-economic visualization, risk assessment, and prediction—demonstrates the system's ability to deliver actionable insights based on complex data. Through RegioClim, users can visualize trends, assess risks, and explore future scenarios, facilitating informed decision-making for climate change adaptation and mitigation strategies.

6.2 Future Work

Despite its current capabilities, there is room for further enhancements and improvements to the RegioClim system. Future work could focus on:

- **Incorporating Real-Time Data**: Integrating real-time data sources to provide up-to-date climate and socio-economic indicators for more dynamic and current projections.
- **Expanding Socio-Economic Indicators**: Including more diverse socio-economic indicators, such as health statistics, migration patterns, and regional economic policies, to create a more comprehensive risk assessment.
- **Machine Learning Model Optimization**: Further refining the machine learning models used for predictions to improve accuracy, especially for long-term projections.
- **User-Customized Visualizations**: Offering users more control over the visualizations, allowing for customization in terms of metrics, regions, and timeframes.

Bibliography

[1] Wes McKinney (2010). *Pandas: A Data Analysis Library in Python*. [Online]. Available: https://pandas.pydata.org/

[2] NumPy Developers (2023). *NumPy: Fundamental package for scientific computing in Python*. [Online]. Available: https://numpy.org/

[3] Pedregosa, F., Varoquaux, G., Gramfort, A., Michel, V., Thirion, B., Grisel, O., Blondel, M., et al. (2011). *Scikit-learn: Machine Learning in Python*. *Journal of Machine Learning Research*, 12, pp. 2825-2830. [Online]. Available: https://scikit-learn.org/

[4] Hunter, J. D. (2007). *Matplotlib: A 2D Graphics Environment*. *Computing in Science & Engineering*, 9(3), 90-95. [Online]. Available: https://matplotlib.org/

[5] Plotly Technologies Inc. (2015). *Plotly: Collaborative data science*. [Online]. Available: https://plotly.com/

[6] Seaborn Library (2023). *Seaborn: Statistical Data Visualization in Python*. [Online]. Available: https://seaborn.pydata.org/

[7] Flask Web Development Framework (2023). *Flask: Web Framework for Python*. [Online]. Available: https://flask.palletsprojects.com/